Multi-source remote sensing data layers fusion

Multispectral UAV imagery



Color UAV imagery



Soil pH map

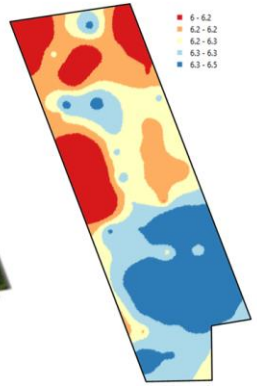

Soil EC map

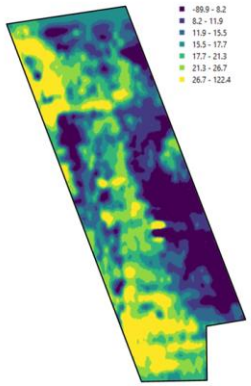

Soil types map

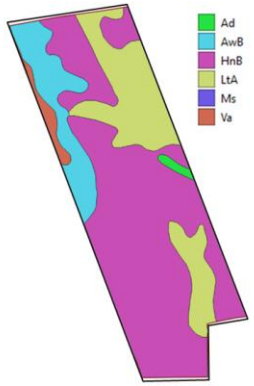

Digital elevation map

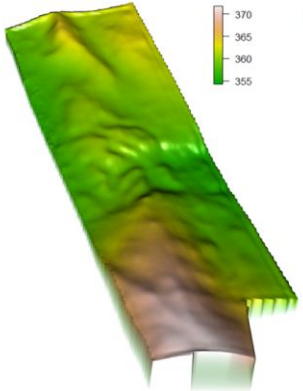

Landform map

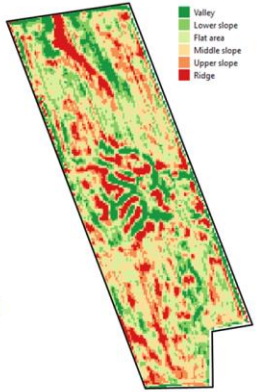

Weather data

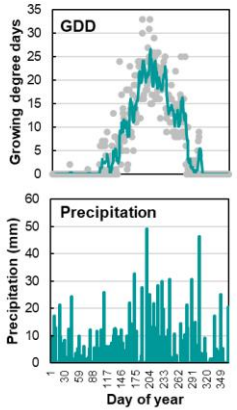

Yield stability zones map

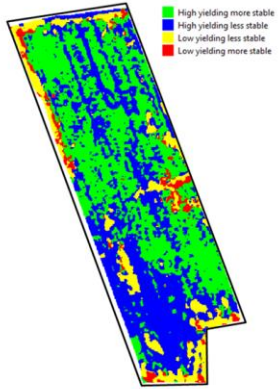

Multi-year yield map

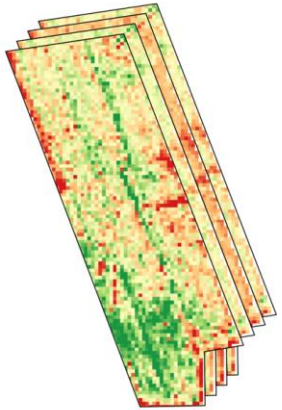

Deep learning approaches to build digital twin

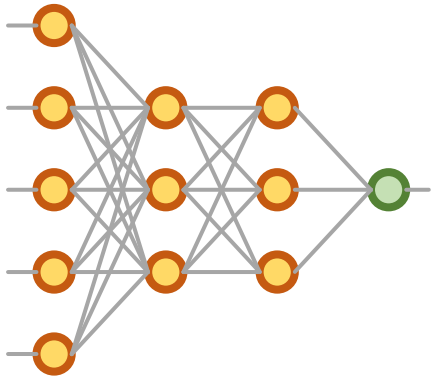
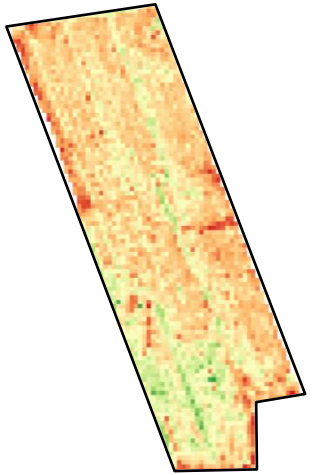
Yield forecasting