Multi-source remote sensing data layers fusion

Multispectral UAV images



Color UAV images



Soil pH

Soil EC map

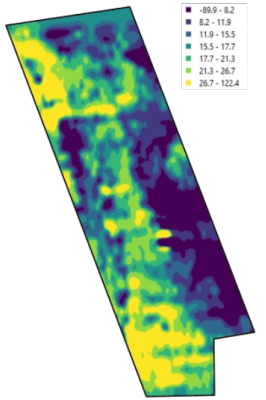

Soil type map

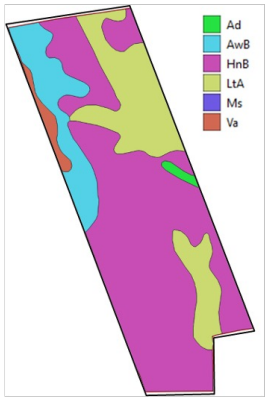

Digital elevation map

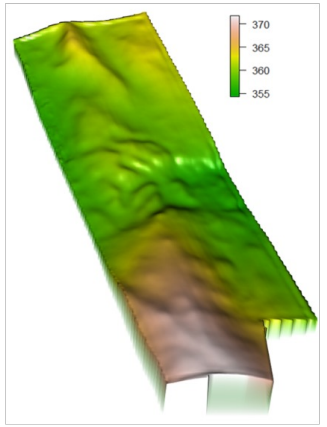

Landform map

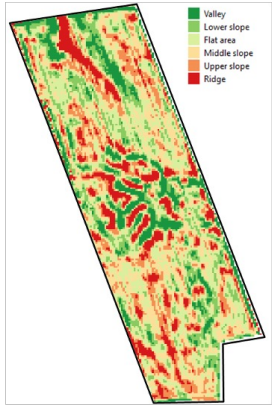

Weather data

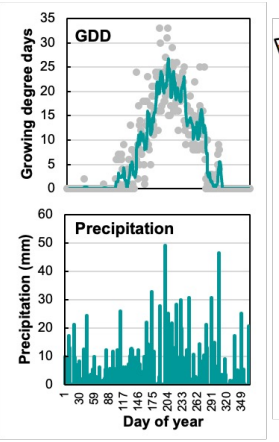

Yield stability map

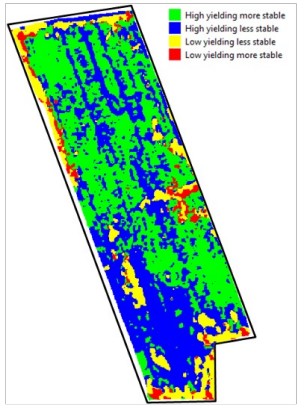

Multi-year yield map

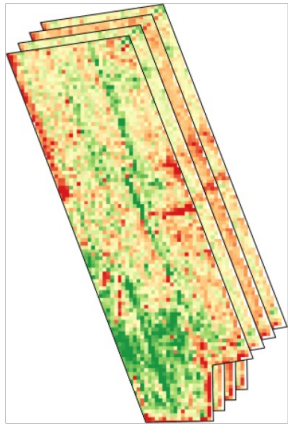

Deep learning approaches to build a digital twin model

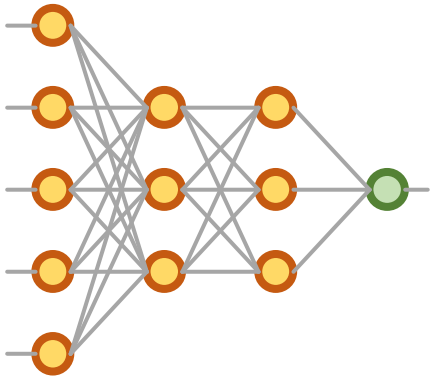

Predictive and prescriptive analytics